FixMyCity

Urban Insight Platform

UI Design Specification

This document defines the visual design, layout, component library, colour system, and interaction states for the FixMyCity web platform. The interface is map-first, dark-themed, and optimised for dense geo-located data display.

Version	Stack	Primary View	Theme
Week 1 MVP	Next.js 14 · Tailwind CSS · Leaflet	Live Hazard Map	Dark (gray-950 base)

LAYOUT OVERVIEW

Main Application Layout

The app occupies 100% of the viewport height with no scroll. A fixed-width sidebar sits on the left; the map fills all remaining space.

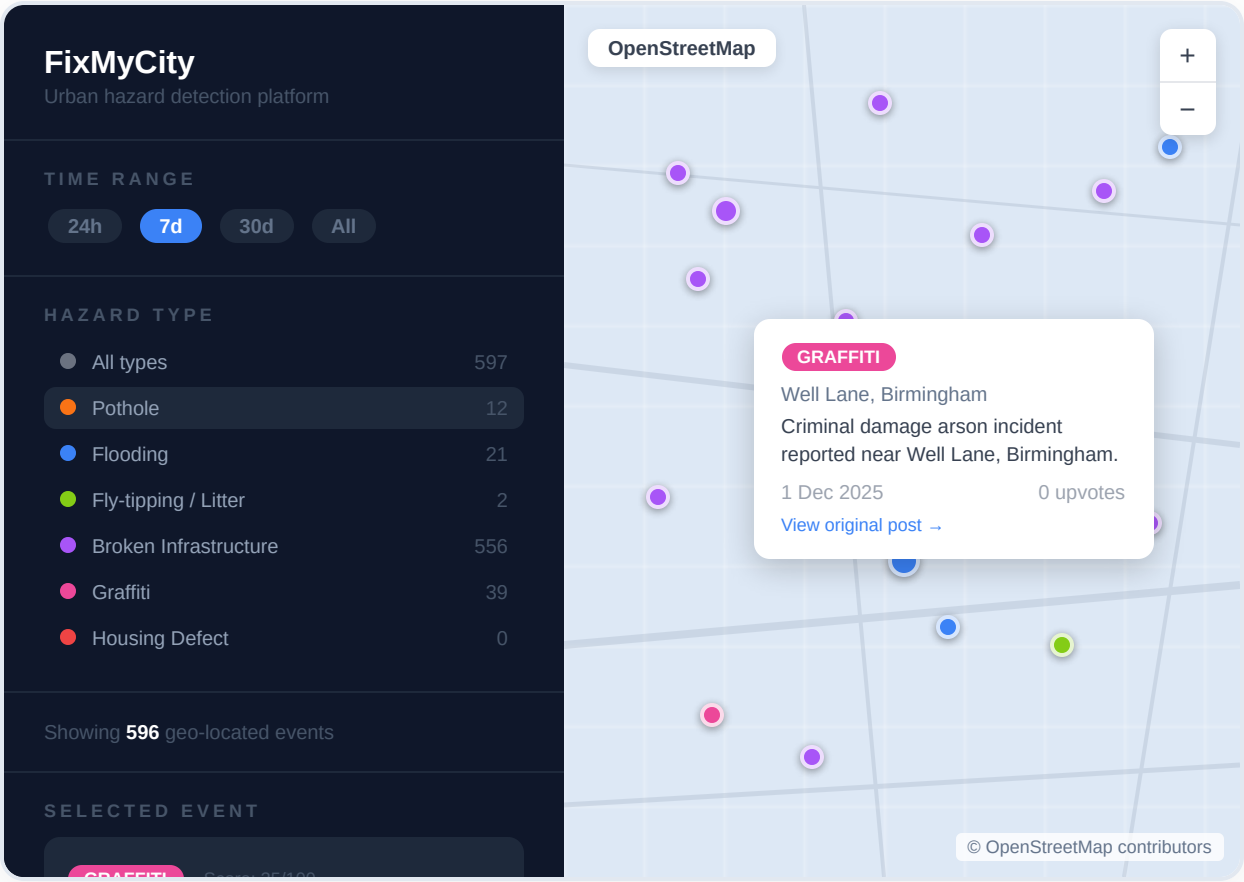

1 **Sidebar — 280px fixed width**
Dark panel (gray-900) with logo, time filter, hazard type filter, live count, and selected event detail. Scrollable if content overflows.

2 **Map — fills remaining viewport**
Leaflet map centred on UK (54.5°N, 2°W), zoom 6. OSM tile layer. Colour-coded circle markers per hazard type. Click opens popup.

3 **Popup — click any marker**
Shows hazard type badge, severity score, resolved place name, summary text (≤180 chars), date, upvotes, and a link to the source post.

4 **Selected event panel**
Clicking a marker also updates the sidebar detail panel with the same event info, enabling deeper reading without the popup closing.

VISUAL DESIGN

Colour System

Each hazard type has a unique accent colour used consistently across map markers, sidebar filter dots, popup badges, and event cards.

Hazard Type Colours

Pothole
`#f97316 · Orange 500`

Flooding
`#3b82f6 · Blue 500`

Trash / Litter
`#84cc16 · Lime 400`

Broken Infra.
`#a855f7 · Purple 500`

Graffiti
`#ec4899 · Pink 500`

Housing Defect
`#ef4444 · Red 500`

UI Background / Surface Colours

Page Background
`#030712 · gray-950`

Sidebar Base
`#0f172a · gray-900`

Card / Active Row
`#1e293b · gray-800`

Dividers / Borders
`#334155 · gray-700`

Popup Background
`#ffffff · white`

Severity Score — Gradient

Low (0) Medium (50) High (100)

Severity score is encoded via pin opacity: `opacity = 0.5 + score/200`.
High-severity pins appear fully opaque; low-severity pins are semi-transparent.
This lets density be read at a glance without changing size.

COMPONENT LIBRARY

UI Components

Reusable elements used throughout the application. All components are built with Tailwind utility classes; no component library dependency.

24h | 7d | 30d | All time

Time Range Filter Chips

Pill buttons; active = blue-600 fill. Clicking re-fetches map data.

All types 597
Flooding 21
Broken Infrastructure 556

Hazard Type Filter List

Row per type with colour dot and count. Active row highlighted gray-700. Toggle to filter map markers.

Flooding Severity: 62/100
Hampshire, England, United Kingdom
Flood Warning: Groundwater flooding in the Bourne Valley. County: Hampshire, Wiltshire.
30 Mar 2026 3 upvotes
View original post →

Map Marker Popup

Appears on marker click. White card with hazard badge, severity, location, summary, date, upvotes, source link.

Graffiti 35/100
Birmingham, West Midlands
Criminal damage incident near Well Lane, Birmingham.
View source →

Selected Event Detail Panel

Sidebar panel showing the currently selected marker. Dark card with badge, score, location, summary, link.

Map Markers

Pothole | Flooding (high severity) | Trash (low severity) | Broken Infra. | Graffiti | Housing Defect

Markers are **div icons** (not default Leaflet PNGs): 14×14px filled circles with a white 2px border and drop shadow. Opacity scales with severity: `opacity = 0.5 + severity_score / 200`. Size is uniform (14px) — density conveys volume rather than individual sizes.

INTERACTION DESIGN

UI States & Specifications

All three primary states of the map view, plus layout measurements and responsive behaviour guidelines.

Application States

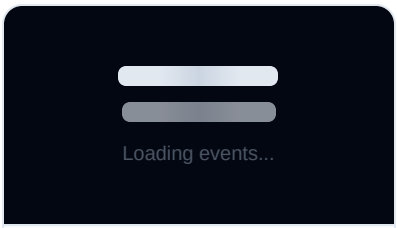

Loading State
Semi-transparent overlay + pulse text. Appears during API fetch.

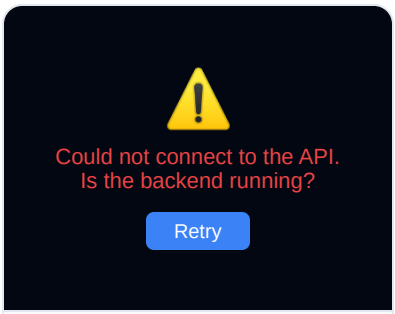

Error State
Full-screen error with retry button. Shown when API is unreachable.



Success State
Map tiles + coloured markers. Sidebar shows live counts and filters.

Layout Measurements

ELEMENT	VALUE	NOTES
Sidebar width	`320px` (w-80)	Fixed, non-resizable in MVP
Map area	`calc(100vw - 320px)`	Fills remaining width via flex-1
Total height	`100vh`	No page scroll; overflow hidden
Map default centre	54.5°N, 2.0°W · zoom 6	Centres on UK, shows all major cities
Sidebar padding	20px horizontal / 14–20px vertical per section	Each section separated by 1px border
Marker size	14×14px (standard) · 16–18px for high-severity	Opacity encodes severity (not size)
Popup width	min 220px	Auto-positioned by Leaflet away from edge
Sidebar section label	9px · uppercase · letter-spacing 2px	gray-500 colour

Interaction Flow

USER ACTION	RESULT
Click time range chip (e.g. "24h")	Re-fetches `/map/events?time_range=24h` · replaces all markers · clears selected event
Click hazard type row	Re-fetches filtered events · toggles off if same type clicked again
Click map marker	Opens Leaflet popup · updates sidebar "Selected Event" panel
Click "View source →"	Opens source URL in new tab (police data / EA flood / BBC RSS)
Click "Retry" (error state)	Re-calls `fetchData()`
Zoom / pan map	Standard Leaflet interaction; markers remain visible at all zoom levels